PLATFORM FOR AUTONOMOUS INDOOR NAVIGATION USING SLAM, META-RL, AND MULTI-ROBOT COLLABORATION

25-26J-497

Project Proposal Report

Senanayake S M A S N

BSc (Hons) Degree in Information Technology

Specialising in Software Engineering

Department of Software Engineering

Sri Lankan Institute of Information Technology Sri Lanka

August 2025

PLATFORM FOR AUTONOMOUS INDOOR NAVIGATION USING SLAM, META-RL, AND MULTI-ROBOT COLLABORATION

25-26J-497

Project Proposal Report

Senanayake S M A S N – IT22305282

Supervisor: Mr. Samadhi Rathnayake

Co-Supervisor: Mr. Amila Alexander

BSc (Hons) Degree in Information Technology

Specialising in Software Engineering

Department of Software Engineering

August 2025

DECLARATION

I declare that this is my own work, and this proposal does not incorporate without acknowledgement any material previously submitted for a degree or diploma in any other university or Institute of higher learning and to the best of our knowledge and belief it does not contain any material previously published or written by another person except where the acknowledgement is made in the text.

Name	Student ID	Signature
Senanayake S M A S N	IT22305282	

The above candidates are carrying out research for the undergraduate Dissertation under my supervision.

28/8/25

Signature of the Supervisor

Date

Signature of the Co-Supervisor

Date

ABSTRACT

This study proposes the design and development of a Multi-Robot Collaboration Framework as an integral component of an advanced autonomous navigation platform, which combines SLAM, Meta-RL and decentralized multi-robot cooperation. The system is designed to allow autonomous robots to collaboratively explore and map unfamiliar indoor settings, dynamically assign tasks, and resolve navigation conflicts in real time. The system has an architecture that includes edge devices, a central coordination server, cloud-based optimization, and a 3D visualization interface. Robots equipped with LiDAR, RGB-D cameras, and inertial sensors collect high-resolution spatial data, which is then sent to a central server for real-time map fusion, task allocation, and trajectory dispute resolution. Cloud-based components improve flexibility by optimizing large-scale maps and teaching adaptive navigation policies using Meta-RL, allowing robots to respond to changing environmental conditions. The platform addresses key difficulties such as scalability, low-latency communication, fault tolerance, and smooth compatibility with current SLAM and policy training subsystems. Development includes rigorous requirement analysis, simulation-based prototyping, iterative testing in real-world scenarios, and the implementation of strong communication protocols to assure constant performance under changing network conditions. The expected result is a scalable, fault-tolerant multi-robot collaboration solution that dramatically enhances operational efficiency in applications including warehouse automation, industrial inspection, and smart houses. This study intends to establish a baseline for next-generation collaborative robotics systems by combining superior coordination algorithms and adaptive learning capabilities.

Keywords - Multi-Robot Collaboration, Collaborative SLAM, Meta-RL, Autonomous Navigation, Decentralized Coordination, Cloud-Based Optimization, Real-Time Visualization

TABLE OF CONTENT

Declaration i

Abstract ii

List of Figures v

List of Tables vi

List of Abbreviations vii

1 Introduction 1

1.1 Background and Literature Survey 2

1.1.1 Challenge 1: Real-Time Adaptation in Dynamic Environments 3

1.1.2 Challenge 2: Decentralized Coordination and Collaboration 3

1.1.3 Challenge 3: System Complexity and Operational Oversight 4

1.2 Research Gap 6

1.2.1 SLAM and 3D Mapping Research 6

1.2.2 Reinforcement Learning for Adaptive Navigation 6

1.2.3 Multi-Robot Collaboration 7

1.2.4 Robot Simulation 7

1.2.5 Integration Gap and Need for a Comprehensive Platform 8

1.3 Research Problem 10

2 Research Objectives 12

2.1 Main Objectives 12

2.2 Specific Objectives – Multi-Robot Collaboration Framework 13

2.2.1 Development of a Robust Communication Infrastructure 13

2.2.2 Development of an Accurate and Scalable Map Fusion System 13

2.2.3 Dynamic Task Coordination and Conflict Resolution 13

2.2.4 Integrated Monitoring, Debugging, and Visualization Tools 14

3 Methodology 15
3.1 System Overview 15
3.1.1 Multi-Robot Collaboration Framework Overview 17
3.2 Software Solutions 19
3.2.1 Requirement Gathering and Analysis 19
3.2.2 Feasibility Study 20
3.3 Tasks and Sub-Tasks 21
3.4 Testing and Validation 22
3.5 Data Collection 22
3.6 Time Frame & Schedule 23
4 Project Requirements 24
4.1 Functional Requirements 24
4.2 Non-Functional Requirements 24
4.3 User Requirements 24
4.4 System Requirements 25
References 26

LIST OF FIGURES

Figure 3.1 System Architecture Diagram 15
Figure 3.2 Internal Structure of the Multi-Robot Collaboration Framework..... 17
Figure 3.3 Gantt Chart..... 23

LIST OF TABLES

Table 1.1 Core Challenges in Multi-Robot System Deployment..... 5
Table 1.2 Research Gap Analysis..... 9

LIST OF ABBREVIATIONS

Abbreviation	Description
SLAM	Simultaneous Localization and Mapping
LiDAR	Light Detection and Ranging
Meta-RL	Meta Reinforcement Learning
AGV	Automated Guided Vehicles
AMR	Autonomous Mobile Robots
RGB-D	RGB-Depth
IMU	Inertial Measurement Units
DRL	Deep Reinforcement Learning
CORB-SLAM	Collaborative Range-Only SLAM
RTAB-Map	Real-Time Appearance Based Mapping
RL	Reinforcement Learning
MAML	Model Agnostic Meta Learning
DDF-SLAM	Data-Driven Decentralized SLAM
ROS	Robot Operating System
ICP	Iterative Closest Point

1 INTRODUCTION

Autonomous indoor navigation in unknown and dynamic environments has long been a challenge in robotics, but it is becoming increasingly important in areas such as smart homes, automated warehouses and disaster recovery scenarios. The ability of robots to travel successfully without prior maps is significantly relied on SLAM, a technique that allows for real time environment reconstruction while tracking the robot's position [1]. SLAM has made significant advances with optical, LiDAR and multi sensor fusion techniques providing robust performance in controlled environments. However, most traditional SLAM algorithms assume static or semi static surroundings and a single robot operational model, limiting their effectiveness in real world applications where settings are fundamentally dynamic [4].

Dynamic components including moving individuals, moving furniture, clear surfaces and reflective materials pose significant problems to typical SLAM systems [3]. These issues appear as false loop closures, map inconsistencies, and loss of localization accuracy which could risk navigation safety and efficiency. Rapid adaptation is crucial in highly dynamic environments, yet standard rule-based path planning and control systems frequently fail to respond successfully [5].

Meta-RL has emerged as a potential method for rapid robotic adaptability. Unlike the traditional reinforcement learning methods, Meta-RL allows systems to make assumptions from previous experiences and quickly modify navigation strategies to the new unknown environments [9], [10]. Meta-RL has demonstrated great potential for single robot navigation but how it can be used in a multi-robot collaborative context is mostly unexplored due to various reasons. This gap is significant since collaborative navigation offers various advantages such as simultaneous exploration for efficient mapping, shared situational awareness and resilience through distributed decision-making [6]-[8].

The multi-robot collaboration framework is a key component for these advantages. It allows real time map sharing, task allocation, conflict resolution and synchronized exploration. By merging local maps into a consistent global map [6], robots can leverage one another's discoveries. Our framework operationalizes these requirements

with decentralized coordination and robust map fusion and scheduling mechanisms, designed for heterogeneous robot teams [7].

This proposal introduces an integrated platform for Autonomous Indoor Navigation by combining advanced SLAM with Meta-RL based adaptation engine, a decentralized multi robot collaborative framework and a 3D mapping and visualization platform. The system utilizes an edge-cloud architecture, in which lightweight robots with simple sensors transporting heavy computations like SLAM processing, map fusion, and policy optimization to a centralized server. This design offers scalability, cost-efficiency, and interoperability with a variety of robot types while preserving real-time performance [6].

From a software engineering approach, the platform encourages flexibility, reusability, and scalability to facilitate the integration of emerging algorithms, sensors, and robotic platforms. Along with SLAM, Meta-RL, and the multi-robot cooperation architecture, the 3D Mapping & Visualization Platform offers an easy-to-use interface for real-time monitoring and debugging for operators. These components improve autonomous robotics by allowing multi-robot teams to move collaboratively, adapt to dynamic changes, and keep consistent global maps in complicated interior environments. The suggested solution bridges the gap between academic research and industry implementation, increasing logistical efficiency, ensuring safety in hazardous areas, and allowing new robotics applications in human-centric environments.

1.1 Background and Literature Survey

The evolution of autonomous systems has altered the way indoor logistics, inspection and service activities are carried out. Historically, tasks like item transportation and inventory management relied significantly on human labor which was inefficient, physically demanding and error prone. AGVs were the first wave of automation to enable repeated activities in organized and controlled environments. However, AGVs depended on permanent navigation infrastructure, such as magnetic strips or painted floor lines, rendering them inefficient in the places with layout changes and dynamic obstacles [1].

The introduction of AMRs marked a significant leap forward. AMRs can dynamically detect and traverse new surroundings by utilizing advanced sensing methods such as LiDAR, RGB-D cameras and IMUs as well as SLAM algorithms [2], [3]. This enables its usage in complicated, real-world environments such as warehouses, hospitals and smart buildings. However, in large-scale applications a single AMR is insufficient. The true potential lies in deploying fleets of robots that can work together to explore and operate more effectively. This transition from a single agent to multi agent system creates a new set of challenges that define the boundary of current robotics research [6], [7].

1.1.1 Challenge 1: Real-Time Adaptation in Dynamic Environments

Indoor environments are hardly static because moving people, rearranging furniture and temporary obstacles cause a shift in distribution between training and operating settings. While DRL has shown ordinary DRL agents require considerable training in new settings, making them not suitable for applications that require immediate attention. Meta-RL solves this problem by allowing agents to "learn how to learn" and change rules with little new knowledge [9], [10]. For example, Google research conducted in 2020 demonstrated fast adaptability in legged robots through evolutionary meta-learning [11]. However, developing whole lifecycle platforms from simulation-based training to real world deployments and constant fine-tuning is still an unexplored topic.

1.1.2 Challenge 2: Decentralized Coordination and Collaboration

Scaling from a single robot to a collaborative team raises serious distributed system challenges. To outperform a single agent robot, a team of robots must coordinate their activities to achieve a shared goal, such as exploring an unexplored region. This requires addressing several key challenges:

- **Communication and Data Fusion**: Agents must effectively share sensor data and local maps with each other. Combining these incomplete maps into a single global map is a difficult data fusion task [6]. Systems such as CORB-SLAM have created frameworks for this but they frequently rely on protocols that may struggle with scalability and network instability.

- **Dynamic Task Allocation**: Dynamic task allocation is appointing different agents for different areas of a building to explore in order to increase coverage and reduce redundancy. Cooperative navigation techniques are vital for efficiency but building decentralized algorithms that lead to globally optimum behavior remains a persistent difficulty [8].
- **Conflict Resolution**: Managing path conflicts and right-of-way to prevent collisions and deadlocks in shared environments.

These challenges require robust communication protocols, consensus algorithms, and lightweight yet scalable data-sharing strategies.

1.1.3 Challenge 3: System Complexity and Operational Oversight

A multi-robot fleet generates a continuous stream of high-dimensional real-time data which includes raw sensor feeds, SLAM generated maps, navigation choices, job allocations and inter-robot communication. Without the appropriate tools, this data can become overwhelming for operators, which can make the system impossible to analyze, diagnose and optimize. Existing interfaces often provide only basic 2D positional data, lacking advanced features such as collision heatmaps, historical performance analytics, and interactive map annotations [12].

The absence of integrated visualization and diagnostic tools in many existing multi-robot frameworks is a major obstacle to scaling. Without them, troubleshooting involves manual log analysis, which is time-consuming and prone to error.

To address this difficulty, a 3D Mapping & Visualization Platform must be developed that not only depicts real-time global maps and robot data, but also includes historical analytics, performance heatmaps, and interactive controls. Such a system converts raw sensor and navigation data into usable insights, allowing operators to make quick decisions, save downtime, and retain confidence in the system's performance even if the number of robots and mission complexity increases.

Table 1.1 Core Challenges in Multi-Robot System Deployment

Factor	Practical Effect on Robots	Typical Symptom	Impact (1-5)
Real-Time Adaptation and Dynamic Obstacles	Inability to adjust to new or moving obstacles	Collisions, inefficient pathing, operational freezes	5
Multi-Robot Coordination and Scalability	Robots performing redundant work or interfering with each other	Inefficient area coverage, inconsistent global maps, bottlenecks	5
System Complexity and Operational Oversight	Inability for human operators to monitor, debug, or manage the fleet	Prolonged downtime, difficulty diagnosing failures, lack of trust in the system	4

The available literature typically addresses these issues in isolation. Meta-RL research may produce a highly adaptable agent, but it fails to investigate how it operates in multi-agent systems. Working on collaborative SLAM may help with map merging, but it assumes robots with basic, non-adaptive behaviors. The key gap therefore is the lack of a single, integrated platform to address these concerns comprehensively. Without a strong framework to regulate these interactions, a team of robots may be less efficient than a single agent. This difficulty is essentially a distributed systems engineering problem, requiring solutions that assure data consistency and allow for dynamic resource allocation across independent agents.

1.2 Research Gap

Autonomous navigation in indoor environments has progressed rapidly as mapping, planning, and control technologies have advanced. Researchers in SLAM, reinforcement learning, multi-robot collaboration, and robot simulation have made significant contributions. However, when these areas are studied together, they reveal continuing constraints in real-time adaptation, scalable multi-robot coordination, semantic-aware change detection, and the lack of a single operational platform. While current research shows technical improvement in each domain separately, practical deployment in dynamic and real-world situations remains a difficulty.

1.2.1 SLAM and 3D Mapping Research

SLAM lays the groundwork for autonomous navigation allowing robots to create and update maps while tracking their own location. Classical techniques such as ORB-SLAM provide good localization and loop closure in static environments but suffer when dynamic objects are present [13]. RTAB-Map is an RGB-D SLAM approach based on a loop closure detector which extends capabilities to RGB-D data with real-time loop closure, but it is primarily intended for single robots to use central processing, making it difficult to scale fleets [14]. Google Cartographer allows real-time 2D/3D LiDAR mapping, but its computing requirements and restricted handing dynamic factors prevent large-scale multi-sensor, multi-robot deployments [15]. These systems improve mapping accuracy but lack real-time adaptation, semantic thinking and built-in collaborative operation, all of which are required for long-term, multi-agent autonomy.

1.2.2 Reinforcement Learning for Adaptive Navigation

Reinforcement Learning (RL) allows policy optimization through experience; however Meta-RL goes beyond by allowing quick adaptability to novel settings. Algorithms such as MAML have shown the ability to fine tune navigation techniques with minimal training, while research has shown encouraging results in obstacle avoidance [16], [17]. Nevertheless, most solutions are limited to simulated situations and do not handle the actual restrictions of real-world operation, such as noisy sensor data, fluctuating connection latency and the requirement for sub-second decision-

making. Furthermore, RL and Meta-RL techniques are infrequently integrated into live SLAM-based multi-robot systems, resulting in a gap in deploying adaptive policies that function seamlessly with real-time mapping and coordination.

1.2.3 Multi-Robot Collaboration

Multi-robot systems have the ability to reduce mapping time, increase coverage, and improve fault tolerance. Distributed systems such as CORB-SLAM [6], [18] and DDF-SLAM [19] demonstrate collaborative map fusion and data sharing among several agents, resulting in improved global map consistency. However, many rely on high-bandwidth, reliable networks, presume homogeneous technology, or function under centralized supervision, resulting in single points of failure. Task allocation strategies are frequently rigid or pre-planned, which limits adaptability when unforeseen challenges or priorities arise. Furthermore, integration with adaptive navigation strategies is unusual, implying that collaborative systems are not completely maximizing the benefits of learning-based behavior in dynamic contexts.

1.2.4 Robot Simulation

Despite the widespread usage of simulation platforms like Gazebo, Webots, and NVIDIA Isaac Sim in robotics research, there are still many obstacles to overcome before they can be successfully applied for adaptive multi-robot navigation. Lack of integrated workflows that link virtual environment setup to real-world deployment is a major challenge. Comprehensive methods that facilitate the shift from simulation to ROS 2-based systems are still lacking, despite the majority of research focusing on enhancing simulation realism or perception models. The validation of navigation models in practical settings is slowed down by this inconsistency. Sim-to-real generalization is another major obstacle. Conventional methods, like domain randomization, depend mostly on trial-and-error adjustments without formal rules, which reduces their dependability in a variety of settings [22]. Remarkably, new research indicates that low fidelity simulations may be more effective than high fidelity simulations for fostering real world transfer. This is probably because they iterate more quickly and have less overfitting [23]. Furthermore, it is challenging to thoroughly test end-to-end interactions prior to deployment because the majority of frameworks do

not integrate simulation with more comprehensive platforms for multi robot SLAM, adaptive navigation and graph-based coordination.

1.2.5 Integration Gap and Need for a Comprehensive Platform

While individual components such as accurate SLAM, adaptive navigation, collaborative mapping, and change detection are mature in the literature, they are frequently used in isolation. There is no single, integrated platform that integrates:

- Real-time Meta-RL for adaptive navigation.
- Decentralized multi-robot collaboration with dynamic task allocation and conflict resolution.
- 3D SLAM mapping.

To address these gaps a modular, edge-cloud platform that can integrate capabilities is required, allowing robot teams to change quickly, collaborate efficiently and maintain accurate shared maps while staying operationally scalable and robust.

Table 1.2 Research Gap Analysis

Research Study	**Focus Area**	**Strengths**	**Gap**	**Relation to Proposed Comprehensive Platform**	**Reference**
ORB-SLAM	3D SLAM	Accurate localization, loop closure.	Static environments, single robots, lacks dynamic adaptation.	Forms SLAM backbone and extend for multi-robot.	[13]
RTAB-Map	Real-time RGB-D SLAM	Loop closure, real-time mapping.	Limited scalability, single-robot focus, centralized.	Used as backend for collaborative multi-robot SLAM.	[14]
Cartographer	LiDAR SLAM	Real-time 2D/3D mapping	High computation, minimal dynamic obstacle handling.	Integrated into hybrid platform with adaptive obstacle awareness	[15]
MAML	Meta-RL	Rapid generalization of unseen tasks	Simulation only; lacks real-world integration, single robot	Provides Meta-RL adaptive navigation engine	[16]
CORB-SLAM	Multi-robot distributed SLAM	Map fusion, distributed architecture	Network-dependent, centralized task allocation, no adaptive policies	Inspiration for decentralized multi-robot collaboration framework	[6], [18]
DDF-SLAM	Multi-robot SLAM	Data sharing and distributed mapping	limited dynamic adaptation	Adapted for heterogeneous robot teams with adaptive path planning	[19]

The gaps clearly demonstrate the need for a comprehensive platform that integrates these features.

1.3 Research Problem

The deployment of AMRs in complicated indoor environments has made great progress, but allowing many robots to work as a coordinated, efficient team remains an unresolved problem. Traditional SLAM systems, such as ORB-SLAM, RTAB-Map, and Cartographer, provide precise mapping and localization, but they are primarily built for single-robot usage and do not enable decentralized multi-robot operation. Furthermore, existing SLAM implementations frequently assume static environments, resulting in lower mapping accuracy and operational efficiency in the presence of moving obstacles, changing layouts, or other dynamic changes.

Reinforcement learning, and more recently Meta-RL techniques such as MAML have demonstrated promise for quick policy adaptation to new contexts with applications including obstacle avoidance and dynamic path planning [17]. However, most Meta-RL techniques are simulation-based and do not account for the complexity of real-world multi-robot systems, such as unstable networks, sensor noise, communication delays, and the necessity for real-time decision-making. Similarly, multi-robot SLAM frameworks such as CORB-SLAM and DDF-SLAM exhibit collaborative mapping and map fusion capabilities, but they frequently rely on centralized coordination, assume homogeneous robot teams, or lack adaptive task allocation strategies, limiting scalability in large or heterogeneous fleets.

The multi-robot collaboration challenge focuses on allowing multiple robots to work together as a single unit. This includes numerous problems:

- Efficient Data Sharing - Designing communication protocols that allow robots to exchange sensor data and partial maps without overwhelming network bandwidth.
- Accurate Map Fusion - Developing robust algorithms to merge independently generated local maps into a single, consistent global representation.
- Dynamic Task Allocation & Conflict Resolution - Creating decentralized decision-making mechanisms that divide exploration areas intelligently, avoid redundant work, and resolve path conflicts in real time.

- Operational Oversight & Debugging - Providing operators with the ability to monitor, analyze, and troubleshoot the performance of the robot team through clear, multi-layered visualization and analytics tools.

Current research addresses some of these issues separately, but rarely integrates them into a coherent, deployable framework. Insufficient integration leads to inefficiencies, inconsistencies in global maps, and poor performance in changing environments.

This research component intends to develop and implement a decentralized multi-robot collaboration framework inside a wider autonomous indoor navigation platform that also includes SLAM, Meta-RL adaptability, and real-time 3D mapping capabilities. The proposed framework would enable scalable, fault-tolerant communication, high-accuracy map fusion, distributed task allocation and a user-friendly operator interface. By overcoming these problems, the technology will allow robot teams to explore unfamiliar locations more rapidly, keep shared maps up to date, and work reliably in dynamic, real-world indoor environments.

2 RESEARCH OBJECTIVES

2.1 Main Objectives

The main objective of this project is to create, build, and evaluate an integrated Autonomous Indoor Navigation Platform that can operate efficiently in dynamic and unfamiliar environments. The proposed platform will combine 3D SLAM-based mapping, Meta-RL for rapid obstacle-aware adaptation, a decentralized multi-robot collaboration architecture, and an interactive 3D mapping and visualization interface to establish a single, modular ecosystem.

The goal is to provide a platform that enables multiple teams of autonomous robots to collaborate as a cohesive unit, adjusting their navigation techniques in real time, keeping consistent global maps, and efficiently coordinating missions without repeating effort. The integration of SLAM and Meta-RL allows each robot to see and adapt to its surroundings independently, while the collaboration architecture ensures that the team maximizes coverage, avoids conflicts, and effortlessly communicates mapping data. The 3D Mapping & Visualization Platform will give operators a simple, real-time interface for tracking fleet performance, view collision maps, reviewing mission data, and interacting with the system as needed.

From a systems engineering standpoint, the study emphasizes scalability, flexibility and adaptability, guaranteeing that the platform can integrate new algorithms, sensors, and robot types with little reconfiguration. The framework will allow for both simulation-based training and real-world deployment, bridging the gap between academic research and industrial applications including warehouse automation, facility monitoring or smart house navigation. Finally, this system will serve as a model for future autonomous indoor navigation technologies, combining adaptability, collaboration, and operational oversight into a single, integrated solution.

2.2 Specific Objectives – Multi-Robot Collaboration Framework

2.2.1 Development of a Robust Communication Infrastructure

The initial goal is to create and build a decentralized, fault-tolerant communication system that allows robots to share partial maps, sensor data, and exploration status in real time without overloading the network. This will include:

- Efficient data compression and prioritization to minimize bandwidth usage
- Peer-to-peer communication protocols to eliminate reliance on a single central node
- Resilience measures prevent packet loss, delay, and intermittent connectivity, ensuring operational continuity in poor network conditions.

This communication layer will be designed for scalability, allowing bigger fleets of robots to coordinate without sacrificing performance.

2.2.2 Development of an Accurate and Scalable Map Fusion System

The second goal is to create an incremental map fusion process that can merge local maps created by separate robots into a consistent, shared global map. This will require:

- Overlap detection algorithms to identify common regions between maps.
- Conflict resolution techniques to address discrepancies caused by noise, occlusions, or different viewpoints.
- Efficient update mechanisms that integrate new mapping data into the global map without interrupting ongoing operations.

The resulting global map will be continuously synchronized across all robots and the operator interface, ensuring that navigation decisions are based on the most current environmental data.

2.2.3 Dynamic Task Coordination and Conflict Resolution

The third goal is to build adaptive task allocation algorithms that intelligently distribute exploration areas among robots based on the changing state of the global map, robot capabilities, and mission priorities. This will include:

- Workload balancing algorithms to ensure all robots contribute optimally to mission goals.
- Conflict resolution mechanisms to handle situations where robots planned paths intersect or compete for the same exploration zone.
- Reactive reallocation strategies to adjust assignments when robots encounter blocked paths, low battery levels, or operational failures.

This dynamic coordination will minimize redundant work, maximize coverage efficiency, and maintain operational fluidity in unpredictable environments.

2.2.4 Integrated Monitoring, Debugging, and Visualization Tools

The fourth goal is to develop an operator-facing monitoring and visualization suite that integrates with the project's 3D Mapping & Visualization Platform. This toolbox will provide:

- Real-time visualization of robot positions, assigned exploration tasks, and evolving global and local maps.
- Performance analytics dashboards with metrics such as area coverage percentage, communication health, and task completion rates.
- Logging and replay functionality for post-mission analysis, enabling developers and operators to identify inefficiencies, debug anomalies, and optimize future missions.

These tools will function as both a mission control interface and a research analysis platform, ensuring transparency and allowing for ongoing improvement in collaboration performance.

By achieving these goals, the Multi-Robot Collaboration Framework will provide the critical communication, coordination, and oversight capabilities needed for scalable, adaptive, and efficient multi-robot indoor navigation. When combined with the SLAM, Meta-RL, and 3D visualization components, this framework will allow for reliable autonomous operations in complex, dynamic indoor environments, considerably advancing the state of the art in multi-robot systems.

3 METHODOLOGY

The technique for creating the Multi-Robot Collaboration Framework is intended to assure strong integration with an autonomous navigation platform that includes SLAM, Meta-RL, and multi-robot coordination. The system facilitates decentralized collaboration among robots, allowing for real-time mapping data exchange, synchronized navigation decisions, and conflict resolution in dynamic indoor situations. The methodology follows a staged approach that includes requirement analysis, system design, implementation, testing, and optimization. Each phase addresses issues such as dynamic environmental changes, network dependability, computational restrictions and scalability, ensuring that the framework is adaptable and efficient in real-world applications.

3.1 System Overview

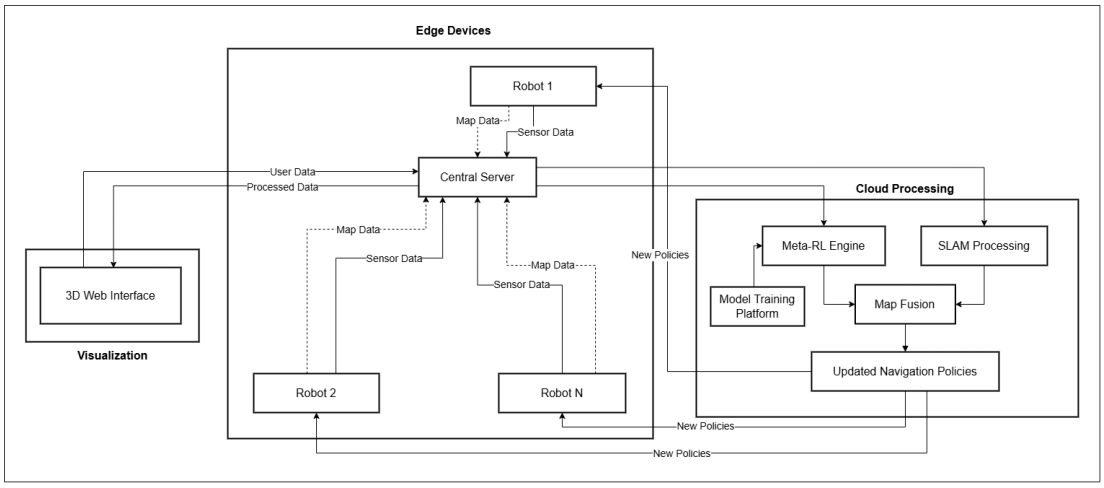

Figure 3.1 System Architecture Diagram

The proposed Autonomous Navigation System is designed as an integrated platform that combines SLAM-based mapping, Meta-RL for adaptive navigation, Multi-Robot Collaboration Framework, 3D Visualization Platform and the Robot Simulation Platform. Reliable performance in dynamic and unpredictable indoor environments is achieved by this integration which strikes a compromise between centralized and cloud-assisted processing and decentralized independent operation at the robot level. The entire system architecture is depicted in Figure 3.1, emphasizing the communication between the 3D visualization interface, cloud-based optimization, the

central coordination server, and edge devices. Because of the layered design's scalability, resilience, and adaptability, the system can function well in a variety of network scenarios and mission requirements.

Edge Devices: Several robots, each equipped with cameras, LiDAR, and other sensors (e.g. IMUs) for collecting raw maps and sensor data. These edge devices have minimal onboard processing capabilities and are intended primarily to capture and transmit data to the central server rather than perform complex calculations. To ensure high-quality input, robots use robust data gathering techniques, while simple connectivity protocols allow real-time data streaming to the server.

Central Server: The central server functions as the main processing unit, receiving raw map and sensor data from all robots. It performs heavy lifting tasks such as real-time map creation and fusion, as well as dynamic task allocation using collaborative SLAM techniques. The server collects and interprets incoming data to generate a consistent global map, resolves navigation conflicts, and assigns exploration zones based on robot telemetry (e.g. battery condition). User data from the visualization interface is also analyzed here to aid with manual interventions such as work reassignment.

Cloud Processing: The cloud layer provides the system with powerful computing resources, including the Meta-RL Engine, SLAM Processing, Map Fusion, and Modeling Platform modules. The Meta-RL Engine trains adaptive navigation policies and aggregated data from the central server. SLAM Processing uses large-scale optimization approaches to update global maps whereas the Map Fusion module combines local data into a consistent representation that accounts for dynamic changes. The Modeling Platform simulates scenarios to develop new rules, which are then sent to the robots as updated navigation policies using the central server.

Visualization: The 3D Web Interface is a real-time visualization and control platform that receives processed data from a central server. It displays robot movements, global map updates, and job assignments, and includes features such as collision heatmaps. Operators can leverage user data such as priority zone marks to affect job assignments, allowing for greater flexibility in mission management.

This architecture ensures effective data handling and interoperability, with the central server and cloud processing reacting to network fluctuations and changes in the environment. It uses robust SLAM approaches and cooperative navigation strategies, making it appropriate for applications such as warehouse automation and smart houses.

3.1.1 Multi-Robot Collaboration Framework Overview

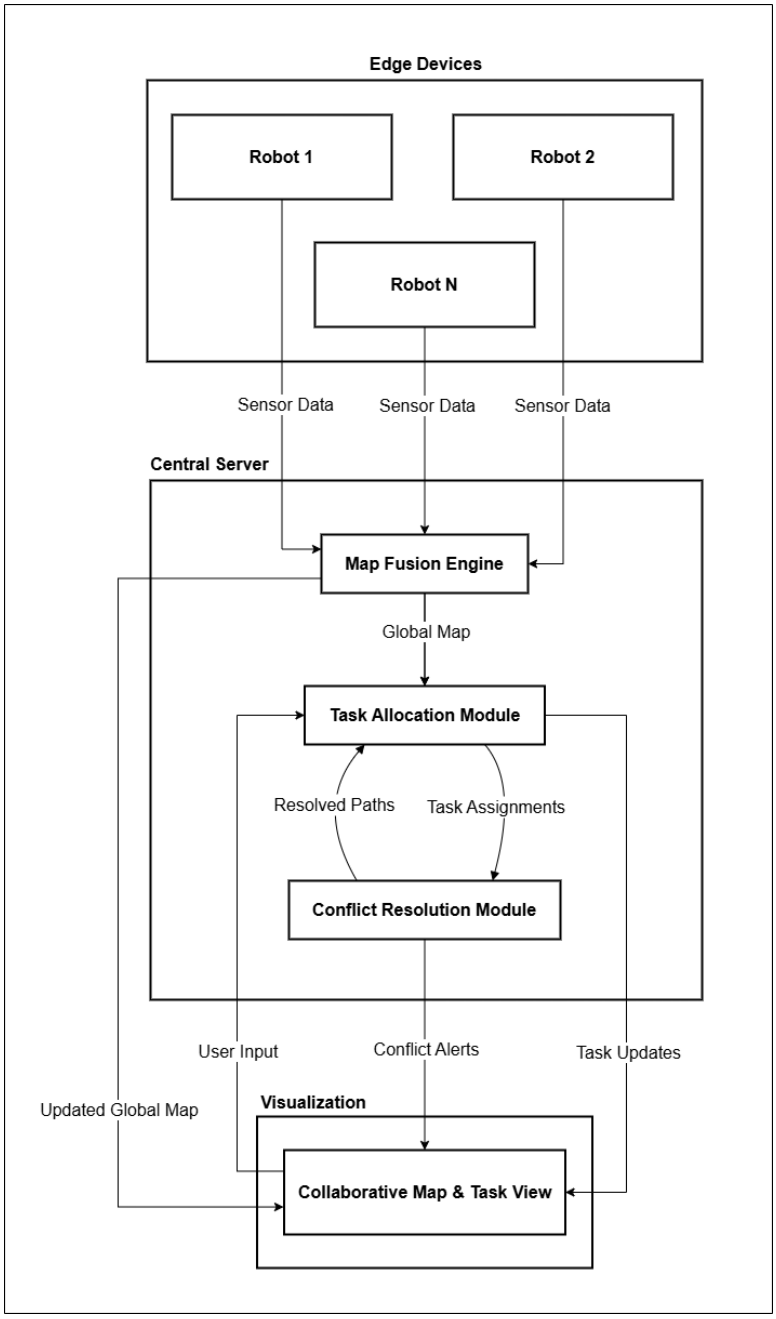

Figure 3.2 Internal Structure of the Multi-Robot Collaboration Framework

In addition to the complete system overview shown in Figure 3.1, the Multi-Robot Collaboration Framework's internal design can be represented as a distinct component structure as seen in Figure 3.2. While the overall system integrates cloud optimization and visualization layers, this sub-architecture highlights the specific modules that enable real-time cooperation between multiple robots.

The primary function of the edge devices is to gather unprocessed sensor data and send it to the central server, which houses the collaboration modules. By combining the incoming local maps into a single global map, the Map Fusion Engine minimizes inconsistencies brought on by odometry drift or sensor noise. This process uses established techniques such as Iterative Closet Point (IPC) and pose graph optimization which have proven effective in multi robot mapping [24].

Alongside map fusion, the Task Allocation Module distributes exploration tasks among the robots. To balance efficiency and cut down on redundancy, assignments are made according to variables including robot position and current workload. The robots' ability to navigate without obstructing one another is guaranteed by the Conflict Resolution Module. It tracks the movements of the robots and uses trajectory-based techniques, such as velocity obstacle techniques, to resolve possible collisions or deadlocks in real time [25].

The 3D Web Interface receives all of the outputs from these modules and allows operators to examine task assignments, see global maps, and track robot placements. In order to maintain a balance between automation and human supervision, this interface also enables operators to step in as necessary, such as by shifting work or setting priorities for exploration zones.

This sub-architecture shows how the Multi-Robot Collaboration Framework functions as the system's collaboration center. It makes it possible for robots to collaborate effectively and exchange information. The framework facilitates useful applications in search-and-rescue, warehouse automation, and service robotics by combining visualization with map fusion, task distribution, and conflict resolution.

3.2 Software Solutions

3.2.1 Requirement Gathering and Analysis

The first step in the Multi-Robot Collaboration Framework requirement collecting process is to determine the technological requirements, environmental limitations, and integration requirements with the broader autonomous navigation platform. Functional capabilities like dynamic task allocation, real-time map fusion, and conflict resolution are evaluated as non-functional demands like fault tolerance, scalability, and latency thresholds.

Primary data sources for this process include a comprehensive review of academic literature on collaborative SLAM. Industrial case studies from the logistics and warehouse automation industries can provide useful viewpoints on deployment issues including managing sizable robot fleets and unpredictable obstacles. These criteria are further refined through direct interactions with robotics engineers and subject matter experts, guaranteeing agreement with practical operating requirements. By establishing initial performance baselines and measuring important metrics like data throughput, communication reliability and processing latency, early-stage prototyping with simulated robots in environments like Gazebo and Isaac Sim lays the groundwork for iterative design improvements.

This process also involves a detailed analysis of operational limitations to ensure the framework's robustness and adaptability:

- **Limited Computation on Edge Devices:** The edge devices, equipped with minimal onboard processing power, are designed to collect raw data from sensors (e.g. LiDAR, cameras) and transmit it to the central server. This calls for the central server to handle all complicated operations, including SLAM processing, map fusion, and decision-making. To do this, effective data compression and transmission protocols are needed to control the load.
- **Variable Network Conditions:** Adaptive data transmission techniques are necessary because environmental factors such as structural interference in indoor environments, can cause fluctuations in network dependability. This

includes implementing lightweight protocols to maintain data integrity during disruptions.

- **Safety Mechanisms for Server Failure:** In the event of central server failure, safety mechanisms must remain operational to prevent collisions or mission failure. For edge devices to continue operating until server connectivity is restored, they must maintain basic obstacle avoidance skills and a decentralized backup state.

By considering these issues, the requirement gathering and analysis stage creates a strong basis for creating a Multi-Robot Collaboration Framework that is durable and scalable, meeting the needs of integrated navigation systems and dynamic indoor environments.

3.2.2 Feasibility Study

In order to determine if the suggested design of the Multi-Robot Collaboration Framework can satisfy performance, financial, and deployment restrictions and guarantee its viability for actual implementation, a feasibility study is essential. In order to address technical, economic, operational, and schedule-related variables, this study is carried out from a variety of angles, offering a thorough evaluation.

Technical Feasibility: Confirming compatibility between the robots' sensor hardware (LiDAR, RGB-D cameras, IMUs) and the central server's processing stack. Testing different SLAM algorithms (e.g ORB-SLAM3, Cartographer) to find the best trade-off between accuracy and latency.

Economic Feasibility: Estimating costs for hardware procurement (robot units, sensors, server hardware), cloud computing resources, and software licensing if applicable.

Operational Feasibility: Evaluating integration complexity with existing SLAM and Meta-RL systems, operator training requirements, and maintenance demands.

Schedule Feasibility: Determining whether development milestones such as prototype testing, integration, real-world trials can be achieved within the project timeline.

3.3 Tasks and Sub-Tasks

In order to accomplish the Multi-Robot Collaboration Framework project goals, the development process is divided into large work packages, each of which is further subdivided into distinct tasks to guarantee steady advancement and effective execution. These activities are organized to meet technical, operational, and validation criteria and are intended to be in line with the project timeframe.

1. **System Architecture & Prototype Setup**
   - Finalize Hardware Selection: Choose robots, sensors and other hardware based on compatibility and cost.
   - Assemble and Configure Prototype Robots: Assemble robots and configure basic communication (e.g Wi-Fi) for data transmission.
2. **Software Module Development**
   - Map fusion engine implementation.
   - Task allocation algorithm development.
   - Conflict resolution mechanism integration.
   - Communication layer design.
3. **Integration & Deployment**
   - Integrate central server processing with cloud optimization.
   - Connect visualization interface to live robot fleet.
4. **Testing & Validation**
   - Unit and integration tests.
   - Scalability testing with multiple robots.
   - Real-world trials in controlled environments.
5. **Documentation & Handover**
   - System architecture documentation.
   - User manual creation.

3.4 Testing and Validation

Testing will be performed in progressive stages:

- **Unit Testing:** Each software module (map fusion, task allocation, conflict resolution) will be tested independently to verify functionality and accuracy.
- **Integration Testing:** Data flow between robots, central server, cloud, and visualization interface will be validated to ensure seamless interaction.
- **Performance Testing:** Metrics such as map fusion latency, task allocation fairness, and communication bandwidth usage will be measured to assess efficiency.
- **Scalability Testing:** Simulations with larger robot fleets under varied network and environmental conditions will evaluate system robustness.
- **Fault Tolerance Testing:** Network links will be disconnected to confirm autonomous fallback to local SLAM, ensuring safety during disruptions.

This staged approach ensures comprehensive validation across all components.

3.5 Data Collection

Data will be gathered from both simulated and real-world environments to support the development and validation of the Multi-Robot Collaboration Framework.

- **Simulated Data:** Generated using simulations to create diverse indoor scenarios for algorithm training, providing a controlled environment to test SLAM and Meta-RL models with varying conditions.
- **Real-World Data:** Collected from robot sensors in controlled indoor settings, such as university labs or mock warehouse spaces, to capture authentic environmental data and sensor noise.

The collected data will be processed into synchronized datasets, aligning sensor inputs with timestamps for use in SLAM map fusion and policy training, ensuring compatibility with the central server and cloud infrastructure.

3.6 Time Frame & Schedule

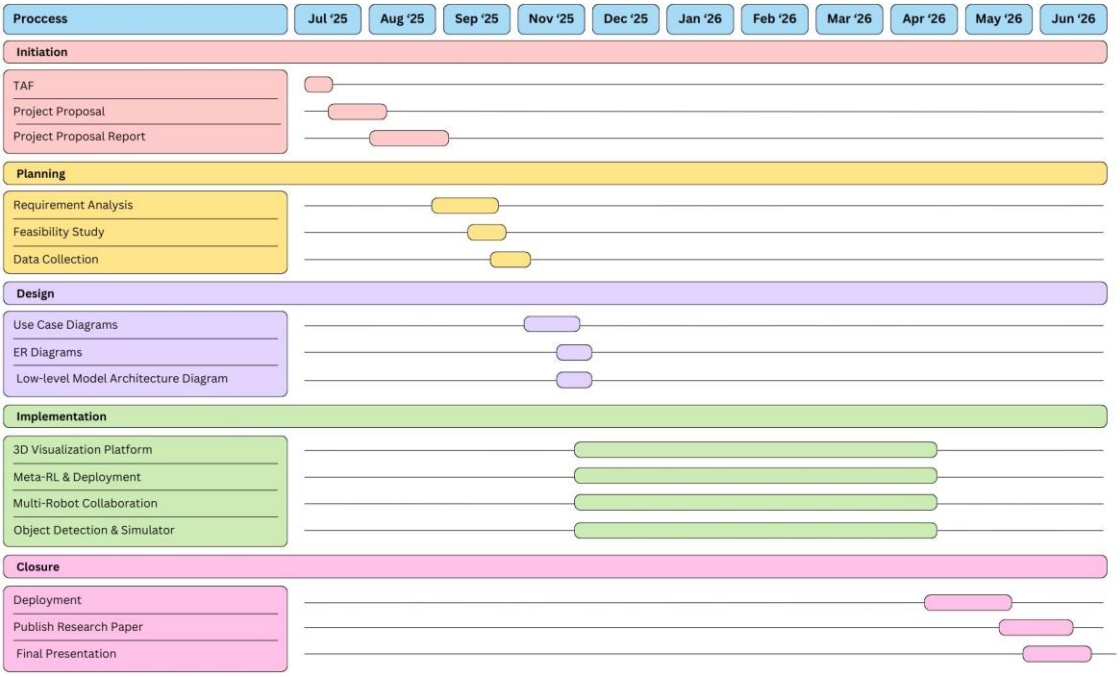

Figure 3.3 Gantt Chart

4 PROJECT REQUIREMENTS

4.1 Functional Requirements

- **Real-time multi-robot map fusion:** To maintain consistency in changing surroundings, the system must quickly combine maps from several robots into a single global map.
- **Dynamic, optimal task allocation:** To maximize coverage and efficiency, the framework should allocate robots to exploration zones according to real-time data.
- **Conflict detection and resolution:** To guarantee safe operation, the system must recognize and address navigation problems (such as collisions and deadlocks) instantly.
- **Continuous operator monitoring with a visualization interface:** For continuous supervision, operators require an easily navigable interface that provides a real-time picture of robot positions, maps, and tasks.

4.2 Non-Functional Requirements

- **Scalability:** In order to accommodate expanding fleet numbers in challenging environments, the system must be able to support up to 20+ robots without experiencing appreciable performance loss.
- **Latency:** To provide real-time responsiveness, processing delays for crucial updates such as map fusion and job allocation must be low.
- **Bandwidth Efficiency:** To reduce network load, particularly in contexts with limited resources, data transmission should employ compression and selective updates.
- **Interoperability:** To ensure interoperability with common robotics systems, the framework must smoothly interface with the current SLAM and Meta-RL components.

4.3 User Requirements

- **Operators must use an easy-to-use interface to oversee and manage missions:** Clear controls and graphics should be provided using the interface.

- **Ability to override automatic decisions in an emergency:** To improve safety and flexibility in critical situations, operators must have the ability to manually modify tasks or pathways.

4.4 System Requirements

- **Robots with LiDAR, RGB-D cameras, and IMUs:** In order to gather unprocessed data and send it to the central server, edge devices need to be outfitted with these sensors.
- **Central server with GPU acceleration:** To effectively manage demanding map fusion and decision-making activities, the server needs GPU assistance.
- **Cloud infrastructure for policy training:** Meta-RL training and large-scale SLAM optimization with aggregated data require a cloud system.

REFERENCES

[1] C. Yu, Z. Liu, X.-J. Liu, F. Xie, Y. Yang, Q. Wei, and Q. Fei, "A Semantic Visual SLAM towards Dynamic Environments," *arXiv preprint arXiv:1809.08379*, 2018.

[2] G. Oriolo, G. Ulivi, and M. Vendittelli, "Real-time map building and navigation for autonomous robots in unknown environments," *IEEE Trans. Syst., Man, Cybern.*, vol. 28, no. 3, pp. 316–333, 1998.

[3] Z. Xing, X. Zhu, and D. Dong, "DE-SLAM: SLAM for highly dynamic environment," *J. Field Robot.*, vol. 39, no. 4, pp. 528–549, 2022.

[4] Y. Ai, T. Rui, X. Yang, J. He, L. Fu, J. Li, and M. Lu, "Visual SLAM in dynamic environments based on object detection," *J. Manuf. Syst.*, vol. 60, pp. 257–271, 2021.

[5] F. Gan, S. Xu, L. Jiang, Y. Liu, Q. Liu, and S. Lan, "Robust visual SLAM algorithm based on target detection and clustering in dynamic scenarios," *Front. Neurorobot.*, vol. 18, p. 1431897, Jul. 2024, doi: 10.3389/fnbot.2024.1431897.

[6] F. Li, S. Yang, X. Yi, and X. Yang, "CORB-SLAM: A Collaborative Visual SLAM System for Multiple Robots," in *Proc. Int. Conf. Intell. Robot. Appl.*, 2018, pp. 377–388.

[7] M. F. Ahmed et al., "Efficient Frontier Management for Collaborative Active SLAM," *arXiv preprint arXiv:2310.01967*, 2023.

[8] F. Ducatelle et al., "Cooperative navigation in robotic swarms," *Swarm Intell.*, 2014, doi: 10.1007/s11721-013-0089-4.

[9] X. Wu, G. Wang, and N. Shen, "Research on obstacle avoidance optimization and path planning of autonomous vehicles based on attention mechanism combined with multimodal information decision-making thoughts of robots," *Front. Neurorobot.*, vol. 17, p. 1269447, 2023, doi: 10.3389/fnbot.2023.1269447.

[10] R. Raj and A. Kos, "Intelligent mobile robot navigation in unknown and complex environment using reinforcement learning technique," *Sci. Rep.*, vol. 14, no. 1, p. 22852, 2024.

[11] Z. Fu, A. Kumar, J. Malik, and D. Pathak, “Rapidly Adaptable Legged Robots via Evolutionary Meta-Learning,” *Google Research*, 2020.

[12] J. L. Blanco, “A Modular Optimization Framework for Localization and Mapping,” in *Proc. Robotics: Science and Systems (RSS)*, 2019, doi: 10.15607/RSS.2019.XV.043.

[13] R. Mur-Artal, J. M. M. Montiel, and J. D. Tardós, “ORB-SLAM: A versatile and accurate monocular SLAM system,” *IEEE Trans. Robot.*, vol. 31, no. 5, pp. 1147–1163, Oct. 2015.

[14] M. Labbé and F. Michaud, “RTAB-Map as an open-source lidar and visual simultaneous localization and mapping library for large-scale and long-term online operation,” *J. Field Robot.*, vol. 36, no. 2, pp. 416–446, 2019, doi: 10.1002/rob.21831.

[15] W. Hess, D. Kohler, H. Rapp, and D. Andor, “Real-time loop closure in 2D LIDAR SLAM,” in *Proc. IEEE Int. Conf. Robot. Autom. (ICRA)*, 2016, pp. 1271–1278.

[16] C. Finn, P. Abbeel, and S. Levine, “Model-Agnostic Meta-Learning for Fast Adaptation of Deep Networks,” in *Proc. Int. Conf. Mach. Learn. (ICML)*, 2017, pp. 1126–1135.

[17] A. Zeng, S. Song, K. Yu, M. K. Wang, and T. Funkhouser, “Learning Synergistic Navigation Policies via Meta-Reinforcement Learning,” *IEEE Robot. Autom. Lett.*, vol. 5, no. 2, pp. 2563–2570, Apr. 2020.

[18] T. Huang, M. Kaess, and J. Leonard, “CORB-SLAM: Collaborative Range-Only SLAM for Multi-Robot Systems,” in *Proc. IEEE Int. Conf. Robot. Autom. (ICRA)*, 2019, pp. 281–288.

[19] M. Cieslewski, K. S. Liu, and D. Scaramuzza, “Data-Driven Decentralized SLAM for Heterogeneous Robot Teams,” *IEEE Robot. Autom. Lett.*, vol. 3, no. 3, pp. 2565–2572, Jul. 2018.

[20] N. Sünderhauf et al., “Place Recognition with ConvNet Features: Static vs Dynamic Environments,” *IEEE Robot. Autom. Lett.*, vol. 3, no. 3, pp. 2225–2232, Jul. 2018.

[21] D. Kim, J. Park, and S. Lee, “Semantic-Aware Change Detection for Long-Term SLAM,” in *Proc. IEEE/RSJ Int. Conf. Intell. Robots Syst. (IROS)*, 2019, pp. 320–327.

[22] J. Tobin, R. Fong, A. Ray, J. Schneider, W. Zaremba, and P. Abbeel, “Domain Randomization for Transferring Deep Neural Networks from Simulation to the Real World,” in *Proc. IEEE/RSJ Int. Conf. Intell. Robots Syst. (IROS)*, 2017, pp. 23–30.

[23] J. Tan et al., “Sim-to-Real: Learning Agile Locomotion for Quadruped Robots,” in *Proc. Robotics: Science and Systems (RSS)*, 2018.

[24] F. Dellaert, *Factor Graphs and GTSAM: A Hands-On Introduction*. Atlanta, GA, USA: Georgia Institute of Technology, 2012.

[25] J. Van den Berg, J. Snoeyink, and M. Lin, “Centralized path planning for multiple robots: Optimal decoupling into sequential plans,” in *Proc. Robotics: Science and Systems (RSS)*, 2011.